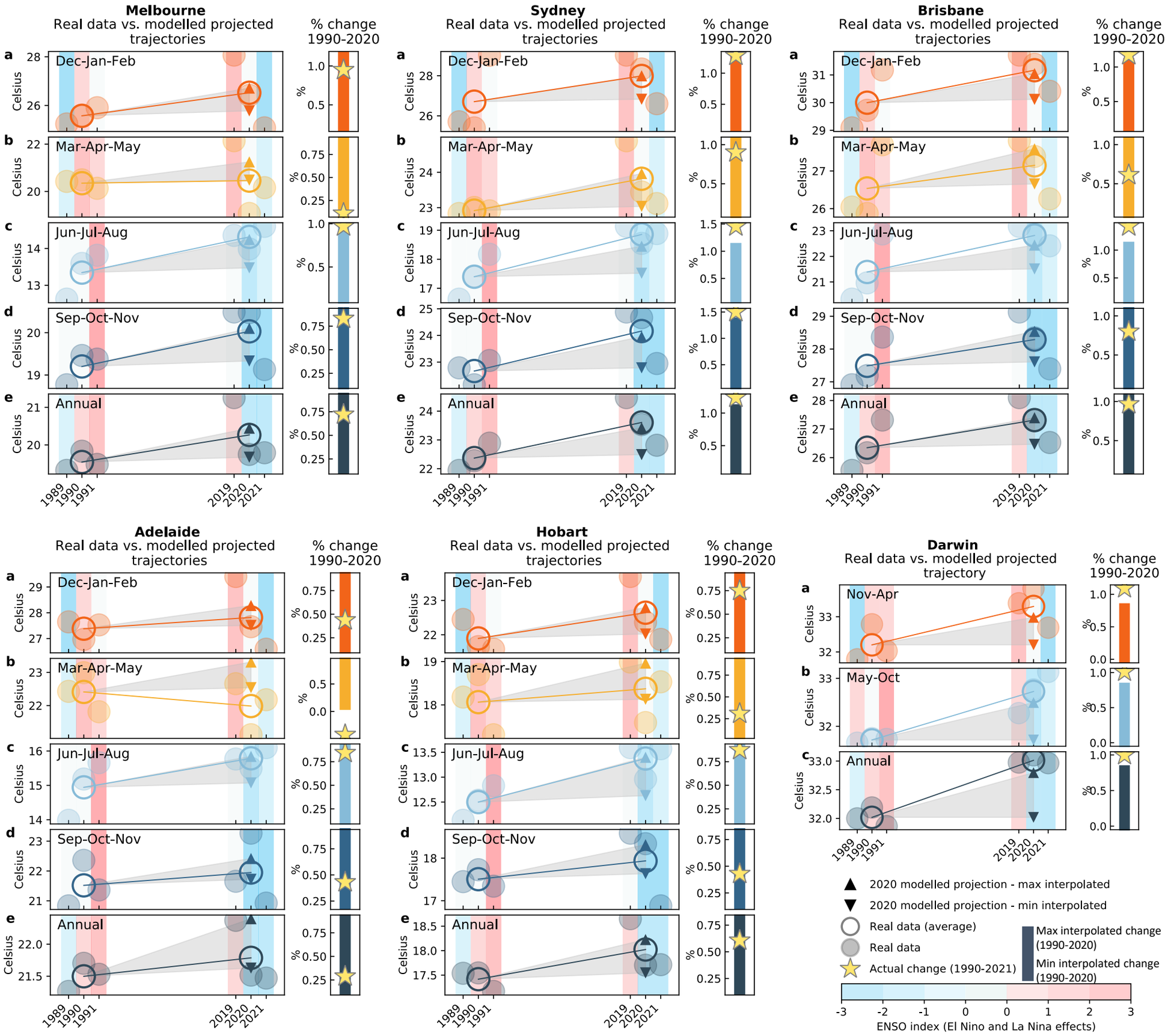
Melbourne
Real data vs. modelled projected trajectories
% change 1990-2020
Sydney
Real data vs. modelled projected trajectories
% change 1990-2020
Brisbane
Real data vs. modelled projected trajectories
% change 1990-2020
Adelaide
Real data vs. modelled projected trajectories
% change 1990-2020
Hobart
Real data vs. modelled projected trajectories
% change 1990-2020
Darwin
Real data vs. modelled projected trajectory
% change 1990-2020
a Dec-Jan-Feb
b Mar-Apr-May
c Jun-Jul-Aug
d Sep-Oct-Nov
e Annual
Nov-Apr
May-Oct
Celsius
%
1989 1990 1991
2019 2020 2021
2020 modelled projection - max interpolated
2020 modelled projection - min interpolated
Real data (average)
Real data
Actual change (1990-2021)
Max interpolated change (1990-2020)
Min interpolated change (1990-2020)
-3 -2 -1 0 0 1 2 3
ENSO index (El Nino and La Nina effects)

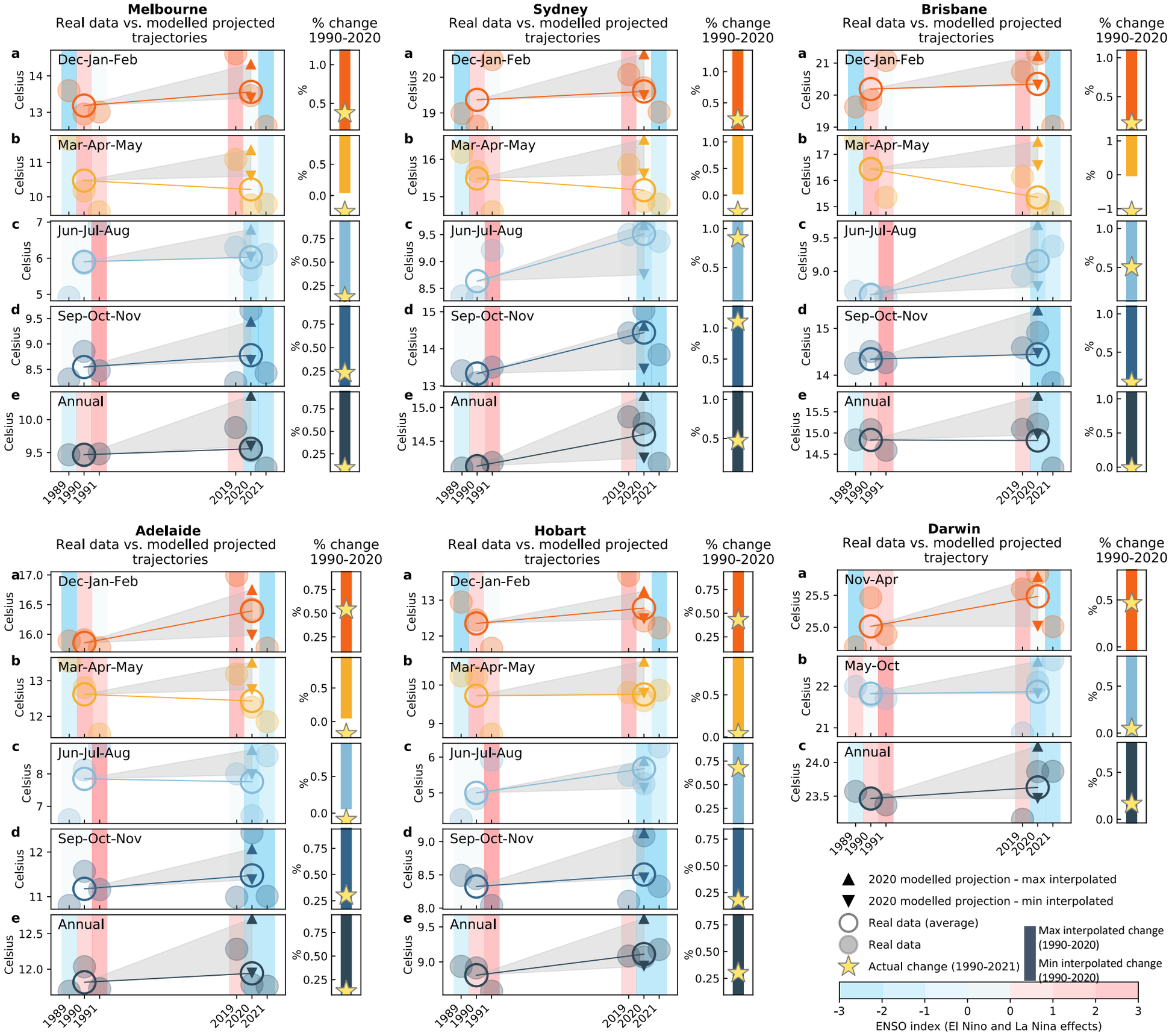
Melbourne
Real data vs. modelled projected trajectories
% change 1990-2020
Sydney
Real data vs. modelled projected trajectories
% change 1990-2020
Brisbane
Real data vs. modelled projected trajectories
% change 1990-2020
Adelaide
Real data vs. modelled projected trajectories
% change 1990-2020
Hobart
Real data vs. modelled projected trajectories
% change 1990-2020
Darwin
Real data vs. modelled projected trajectory
% change 1990-2020
a Dec-Jan-Feb
b Mar-Apr-May
c Jun-Jul-Aug
d Sep-Oct-Nov
e Annual
Nov-Apr
May-Oct
Celsius
%
1989 1990 1991
2019 2020 2021
2020 modelled projection - max interpolated
2020 modelled projection - min interpolated
Real data (average)
Real data
Actual change (1990-2021)
Max interpolated change (1990-2020)
Min interpolated change (1990-2020)
-3 -2 -1 0 0 1 2 3
ENSO index (El Nino and La Nina effects)

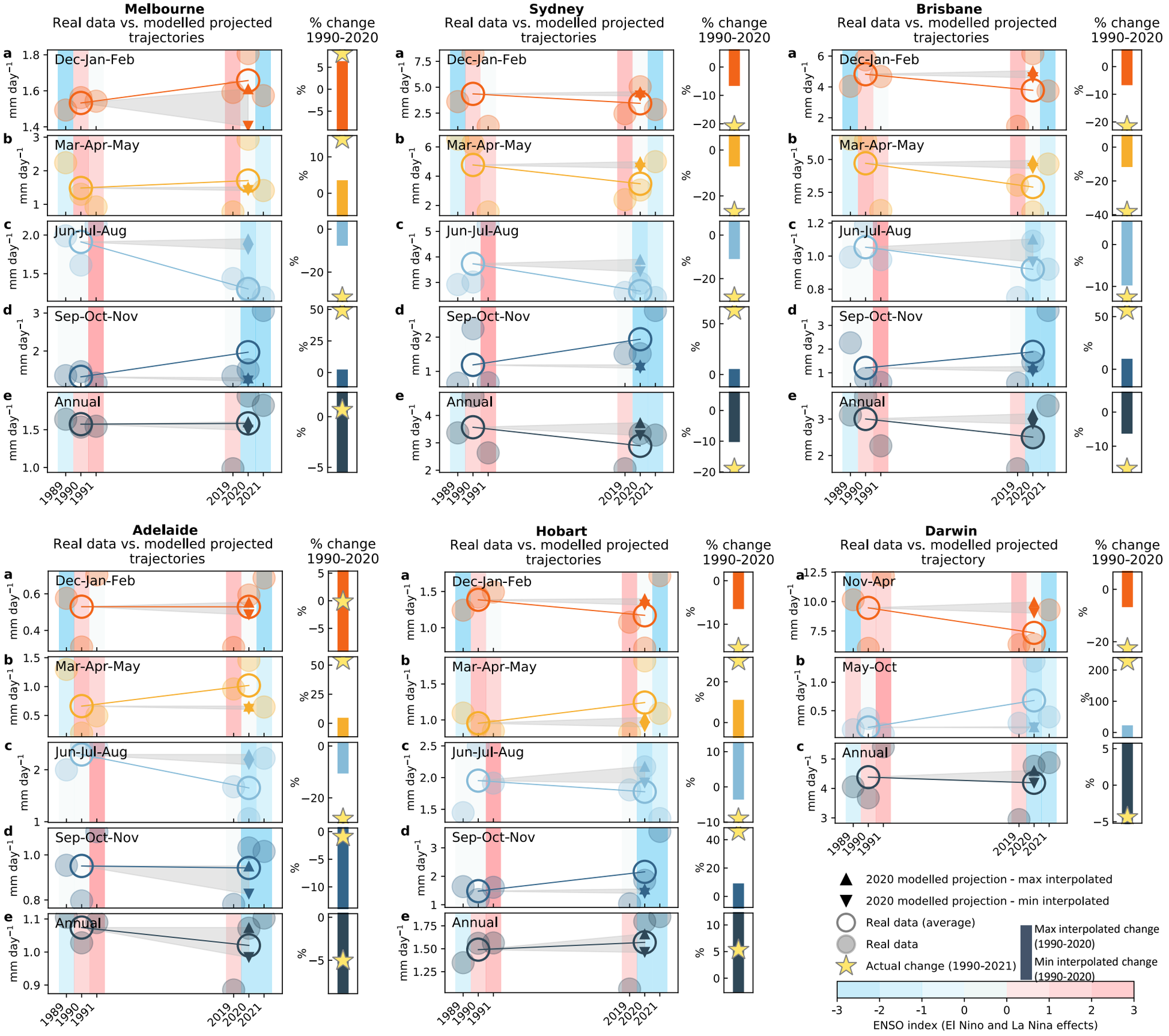
Melbourne
Real data vs. modelled projected trajectories
% change 1990-2020
Sydney
Real data vs. modelled projected trajectories
% change 1990-2020
Brisbane
Real data vs. modelled projected trajectories
% change 1990-2020
Adelaide
Real data vs. modelled projected trajectories
% change 1990-2020
Hobart
Real data vs. modelled projected trajectories
% change 1990-2020
Darwin
Real data vs. modelled projected trajectory
% change 1990-2020
a Dec-Jan-Feb
b Mar-Apr-May
c Jun-Jul-Aug
d Sep-Oct-Nov
e Annual
a Nov-Apr
b May-Oct
c Annual
mm day⁻¹
%
1989 1990 1991
2019 2020 2021
2020 modelled projection - max interpolated
2020 modelled projection - min interpolated
Real data (average)
Real data
Actual change (1990-2021)
Max interpolated change (1990-2020)
Min interpolated change (1990-2020)
-3 -2 -1 0 0 1 2 3
ENSO index (El Nino and La Nina effects)

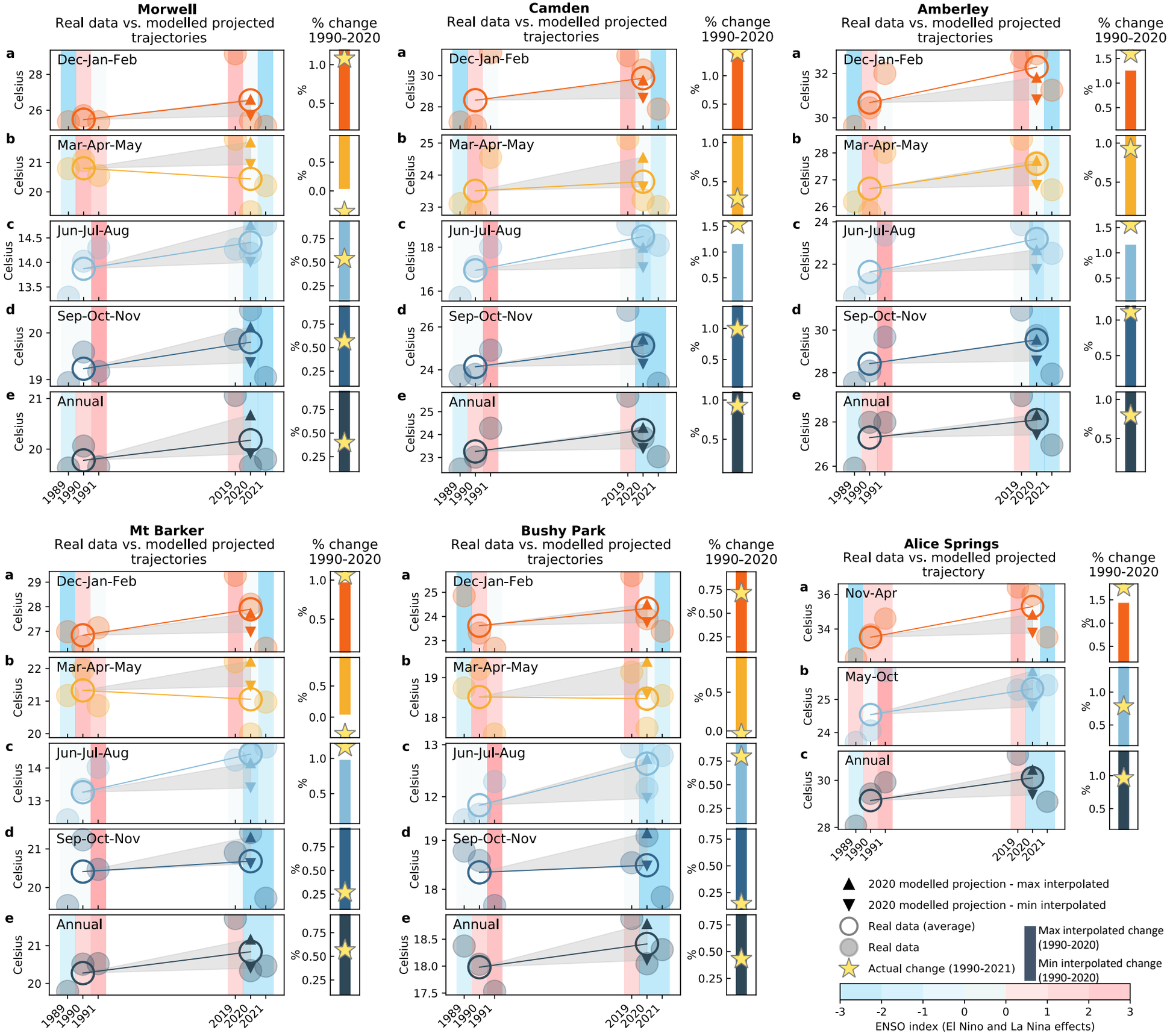
Morwell
Real data vs. modelled projected trajectories
% change 1990-2020
Camden
Real data vs. modelled projected trajectories
% change 1990-2020
Amberley
Real data vs. modelled projected trajectories
% change 1990-2020
Mt Barker
Real data vs. modelled projected trajectories
% change 1990-2020
Bushy Park
Real data vs. modelled projected trajectories
% change 1990-2020
Alice Springs
Real data vs. modelled projected trajectory
% change 1990-2020
a
Dec-Jan-Feb
b
Mar-Apr-May
c
Jun-Jul-Aug
d
Sep-Oct-Nov
e
Annual
Nov-Apr
May-Oct
Celsius
%
1989
1990
1991
2019
2020
2021
2020 modelled projection - max interpolated
2020 modelled projection - min interpolated
Real data (average)
Real data
Actual change (1990-2021)
Max interpolated change (1990-2020)
Min interpolated change (1990-2020)
-3
-2
-1
0
0
1
2
3
ENSO index (El Nino and La Nina effects)

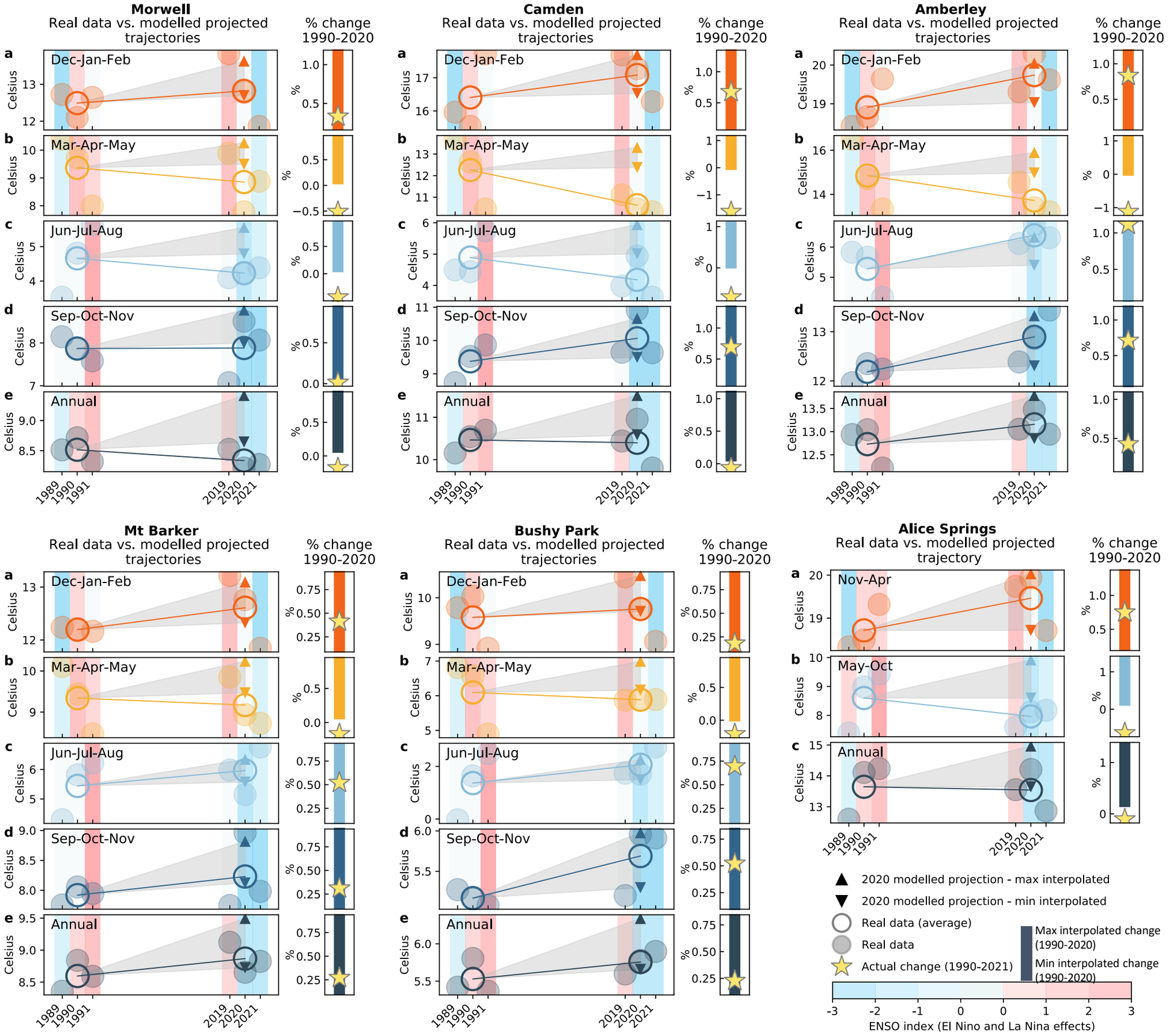
Morwell
Real data vs. modelled projected trajectories
% change 1990-2020
Camden
Real data vs. modelled projected trajectories
% change 1990-2020
Amberley
Real data vs. modelled projected trajectories
% change 1990-2020
Mt Barker
Real data vs. modelled projected trajectories
% change 1990-2020
Bushy Park
Real data vs. modelled projected trajectories
% change 1990-2020
Alice Springs
Real data vs. modelled projected trajectory
% change 1990-2020
a Dec-Jan-Feb
b Mar-Apr-May
c Jun-Jul-Aug
d Sep-Oct-Nov
e Annual
Nov-Apr
May-Oct
Celsius
%
1989 1990 1991
2019 2020 2021
2020 modelled projection - max interpolated
2020 modelled projection - min interpolated
Real data (average)
Real data
Actual change (1990-2021)
Max interpolated change (1990-2020)
Min interpolated change (1990-2020)
-3 -2 -1 0 0 1 2 3
ENSO index (El Nino and La Nina effects)